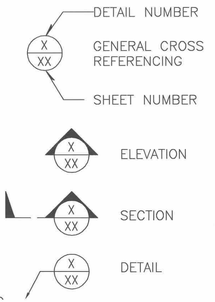
ABBREVIATIONS & SYMBOLS

AC	ASPHALTIC CONCRETE	GND	GROUND
ADJ.	ADJUSTABLE	GPS	GEOSTATIONARY POSITIONING SYSTEM
AFF	ABOVE FINISHED FLOOR		
AFG	ABOVE FINISHED GRADE	INT.	INTERIOR
ALUM.	ALUMINUM	MAX.	MAXIMUM
AMSL	ABOVE MEAN SEA LEVEL	MECH.	MECHANICAL
APPROX.	APPROXIMATE	MFR.	MANUFACTURER
AWG	AMERICAN WIRE GAUGE	MIN.	MINIMUM
BCW	BARE COPPER WIRE	N.T.S.	NOT TO SCALE
BLKG.	BLOCKING	O.C.	ON CENTER
CAB.	CABINET	OPP.	OPPOSITE
CLG.	CEILING	PL	PLATE
CONC.	CONCRETE	S.F.	SQUARE FOOT
CONT.	CONTINUOUS	SHT	SHEET
Cu	COPPER	STL.	STEEL
DIA.	DIAMETER	SUSP.	SUSPENDED
DWG.	DRAWING	TNND	TINNED
E	EXISTING TO REMAIN	T.O.C.	TOP OF CONCRETE
EA.	EACH	TYP.	TYPICAL
EL	ELEVATION	U.O.N.	UNLESS OTHERWISE NOTED
ELEC.	ELECTRICAL		
EQ.	EQUAL	WP	WEATHERPROOF
EQUIP.	EQUIPMENT	W.W.F.	WELDED WIRE FABRIC
EXIST.	EXISTING	W/	WITH
EXT.	EXTERIOR	&	AND
F.F.	FINISHED FLOOR	@	AT
GA.	GAUGE		
GALV.	GALVANIZED		



RF DATA SHEET

RF ENGINEER NAME: ALAN BUNGO
PHONE #: (303) 525-1729
DATE: 5/15/01
SITE NAME: CEMEX CEMENT PLANT
SITE NUMBER: BLD-021A
LATTITUDE: 40°12'12.7" N
LONGITUDE: 105°14'7.9" W

COMMENTS: ORDER MECHANICAL DOWNTILT BRACKETS FOR ALL ANTENNAS.

HAS R.F. DRIVE TESTING BEEN COMPLETED: YES: X NO:

STRUCTURE TYPE – PROPOSED (P) OR EXISTING (E)

SELF SUPPORT:	SCREEN:
MONOPOLE:	OTHER (DESCRIBE BELOW):
LATTICE TOWER:	PENTHOUSE PARAPET
ROOFTOP: X	LUCENT BTS X
PICO:	

IS THE SITE A SECOND CARRIER AT TIME OF CONSTRUCTION?
☐ YES ☒ NO

STRUCTURE LOADING (INCLUDING CO-LOCATORS, EXISTING AND PROPOSED EQUIPMENT

CELLULAR ANTENNAS

AZIMUTH (DEGREES)	# PER SECTOR	ANTENNA CENTERLINE HEIGHT (FEET) Tx	Rx	FUT.	MANUFACTURER NAME/MODEL NUMBER	DOWN TILT (MECHANICAL) (DEGREE)	SEPARATION VERTICAL (FEET)	HORIZONTAL (FEET)	EXISTING OR PROPOSED (E OR P)
80	2+1	130	130		FV65-17-00DP	0		10	P
200	2+1	130	130		FV65-17-00DP	0		10	P
320	2+1	130	130		FV65-17-00DP	0		10	P

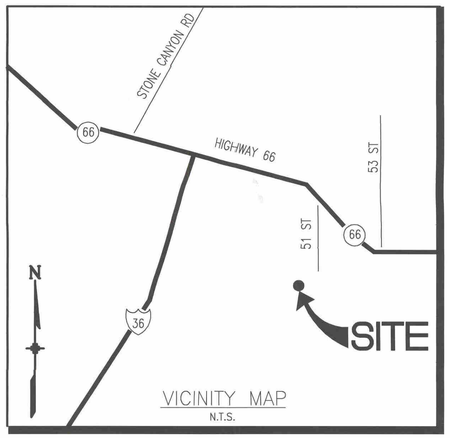
GPS ANTENNA

DESCRIBE LOACTION AND ELEVATION: MOUNTED ON B.T.S. EQUIPMENT ON ROOF

MICROWAVE ANTENNAS

AZIMUTH (DEGREES)	DIAMETER (FEET)	ANTENNA CENTERLINE HEIGHT (FEET)	MANUFACTURER NAME/MODEL NUMBER	DOWN TILT (MECHANICAL) (DEGREE)	SEPARATION VERTICAL (FEET)	HORIZONTAL (FEET)	EXISTING OR PROPOSED (E OR P)

RF SIGNAGE:
POSTING REQUIRED @ ACCESS ☐ YES ☒ NO
POSTING REQUIRED ON ANTENNA FACE ☐ YES ☒ NO



VICINITY MAP
N.T.S.

GENERAL NOTES

1. ADA COMPLIANCE: PCS FACILITY IS NOT STAFFED AND NOT NORMALLY OCCUPIED.

LEGAL DESCRIPTION

SITE PARCEL NO: 1203-28-0-00-001

SITE NAME: CEMEX CEMENT PLANT

LEGAL DESCRIPTION: SECTION TOWNSHIP RANGE: 21-3N-70, 28-3N-70, 29-3N-70
SE 1/4 SE 1/4 20-3N-70 & PT W 1/2 27-3N-70 & E 500 FT OF LESS.19 ACS M/L TO BOCO & LESS PTS TO US LESS PT TO HWY DEPT TOTAL 757.85 ACS SPLITS 128969 & 142930 TO HWY DEPT

PROJECT SUMMARY

- INSTALLATION OF B.T.S EQUIPMENT CABINETS ON EXISTING CEMENT PLANT ROOFTOP
- INSTALLATION OF 3 ANTENNA ARRAYS WITH 2 ANTENNA EACH WITH 1 FUTURE ON FACADE OF PLANT
- POWER AND TELCO FROM EXISTING SERVICES.
- GPS MOUNTED ON BTS EQUIPMENT ON ROOF

PROJECT INFORMATION

SITE ADDRESS: 5134 UTE HIGHWAY
LYONS, COLORADO 80540-0529

ZONING CLASSIFICATION: GI (GENERAL INDUSTRIAL)

AREA OF CONSTRUCTION (SQ FT): 204 SF

OCCUPANCY CLASSIFICATION: U (UNMANNED TELECOMMUNICATIONS FACILITY)

PROJECT DIRECTORY

OWNER: SOUTHDOWN INC
5134 UTE HIGHWAY
LYONS, COLORADO 80540-0529

CONTACT: JOHN LOHR,PLANT MGR. (303) 823-2100

APPLICANT: QWEST WIRELESS LLC
4301 E. COLFAX AVE., ROOM 314
DENVER, CO 80220

CONTACT: DALLAS KILAND (303) 398-8500

AGENT: QWEST WIRELESS LLC
4301 E. COLFAX AVE., ROOM 314
DENVER, CO 80220

CONTACT: KARYN KARLSON (303) 587-6146

ENGINEER: QWEST WIRELESS LLC
4301 E. COLFAX AVE., ROOM 314
DENVER, CO 80220
(303) 398-8497 FAX

CONTACT: RANDALL STEINKE (720) 260-7093

DRAWINGS

T-1	TITLE SHEET
A-1	SITE PLAN AND ENLARGED SITE PLAN
A-2	ELEVATION
A-3	DETAILS
E-1	ONE-LINE DIAGRAM
E-2	ELECTRICAL PLAN
E-3	DETAILS

NO.	DATE	REVISION	BY	CHKD	APVLS
1	10 12 01	ISSUED FOR QWEST REVIEW	IR	RLS	
0	10 23 01	ISSUED FOR CONSTRUCTION/PERMIT	IR	RLS	



Qwest® Wireless™

SITE INFORMATION

SOUTHDOWN CEMENT PLANT
5134 UTE HIGHWAY
LYONS, COLORADO 80540-0529
BLD-021A

DESIGN TYPE

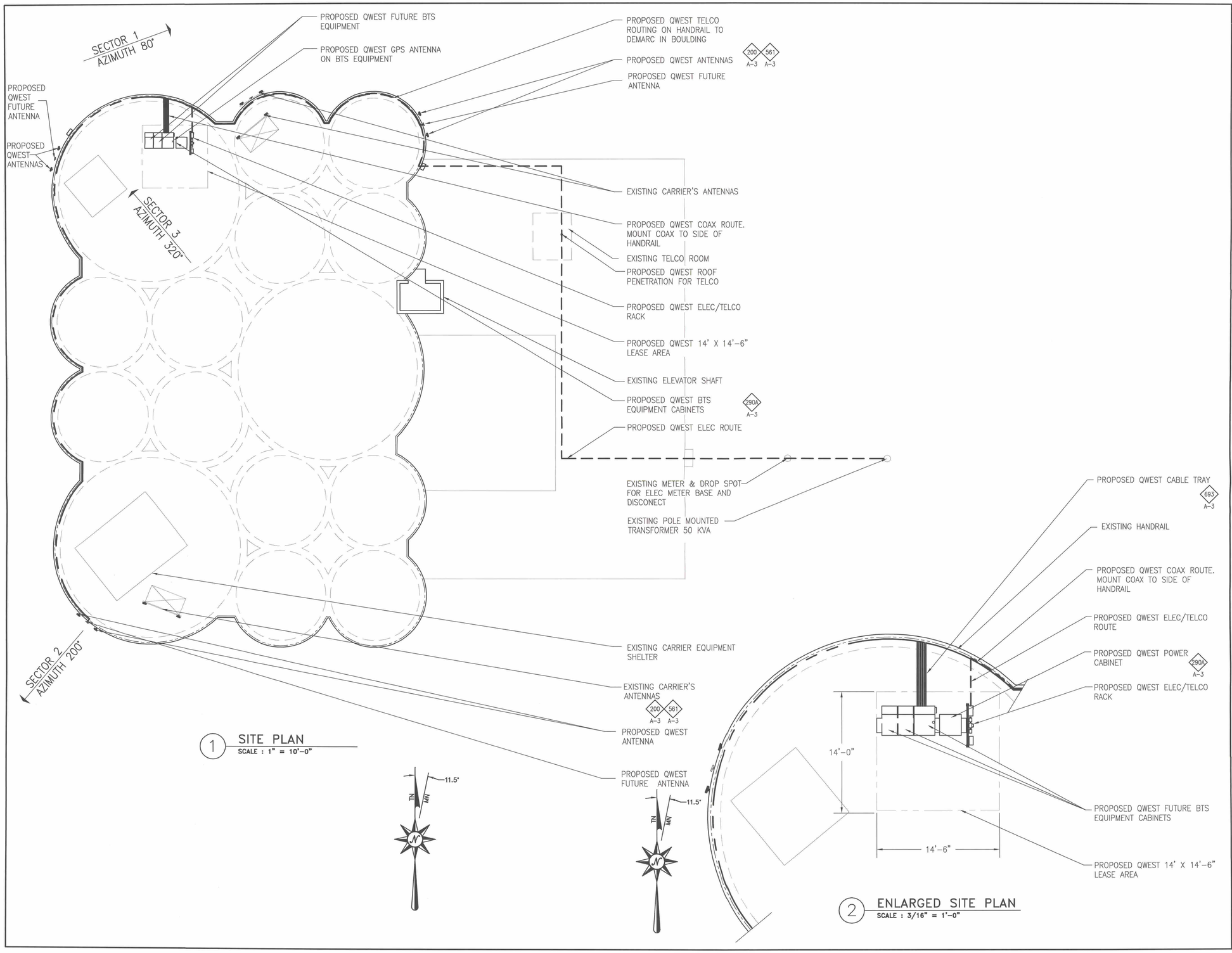
ROOFTOP EQUIPMENT AND ANTENNAS

SHEET TITLE

TITLE SHEET

SHEET NUMBER	REV.
T-1	0

DWG NAME: T-1 DATE: 10-23-01



1 SITE PLAN
SCALE : 1" = 10'-0"

2 ENLARGED SITE PLAN
SCALE : 3/16" = 1'-0"

NO.	DATE	REVISION	BY	CHKD	APVLS
A	10 12 01	ISSUED FOR QWEST REVIEW	IR	RLS	
0	10 23 01	ISSUED FOR CONSTRUCTION/PERMIT	IR	RLS	

STATE OF COLORADO
REGISTERED
RICHARD L. SCHMIDT
LICENSED ARCHITECT
11.19.01

Qwest® Wireless

SITE INFORMATION

SOUTHDOWN CEMENT PLANT
5134 UTE HIGHWAY
LYONS, COLORADO 80540-0529
BLD-021A

DESIGN TYPE

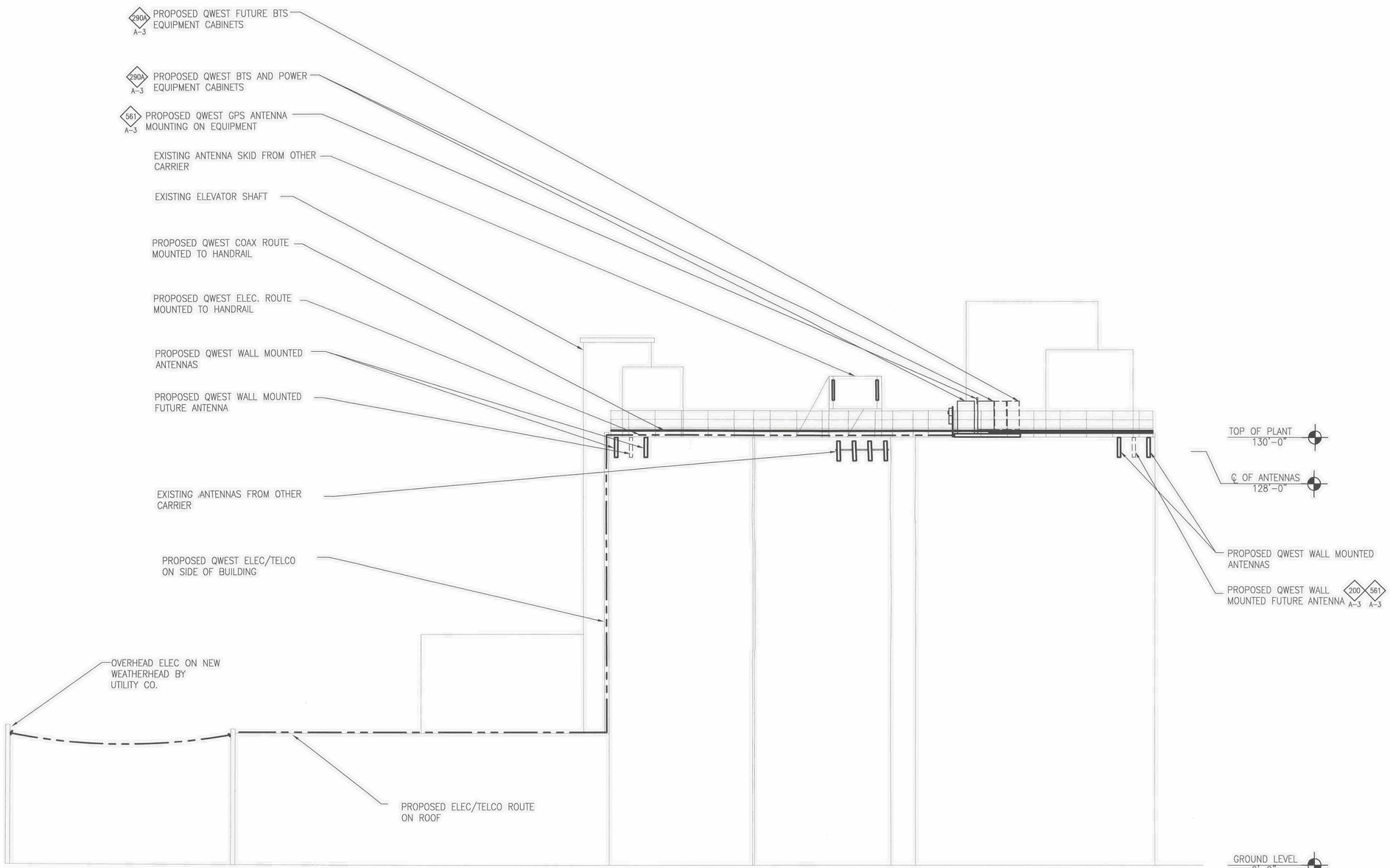
ROOFTOP EQUIPMENT AND ANTENNAS

SHEET TITLE

SITE PLAN AND ENLARGED SITE PLAN

SHEET NUMBER	REV.
A-1	0

DWG NAME: A-1 | DATE: 10-23-01



1 NORTH ELEVATION
SCALE : 1/8" = 1'-0"

NO.	DATE	REVISION	BY	CHKD	APVLS
A	10 12 01	ISSUED FOR QWEST REVIEW	IR	RLS	
0	10 23 01	ISSUED FOR CONSTRUCTION/PERMIT	IR	RLS	

STATE OF COLORADO
REGISTERED
RICHARD L. SCHMIDT
LICENSED ARCHITECT
10-19-01

Qwest® Wireless

SITE INFORMATION

SOUTHDOWN CEMENT PLANT
5134 UTE HIGHWAY
LYONS, COLORADO 80540-0529
BLD-021A

DESIGN TYPE

ROOFTOP EQUIPMENT AND ANTENNAS

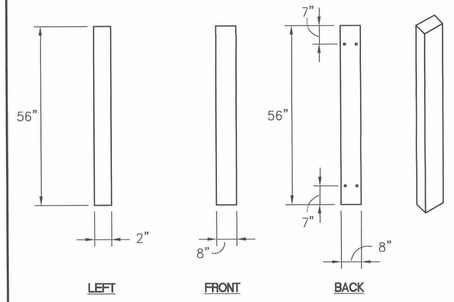
SHEET TITLE

ELEVATION

SHEET NUMBER

A-2 | 0

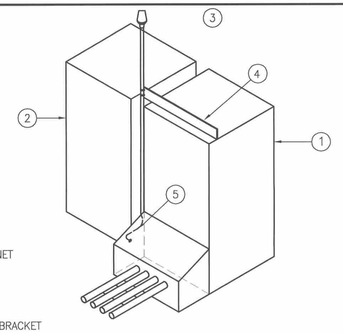
DWG NAME: A-2 | DATE: 10-23-01



NOTE: ANTENNA IS FV-65-17-00DP

200 TYPICAL ANTENNA

SCALE: N.T.S.

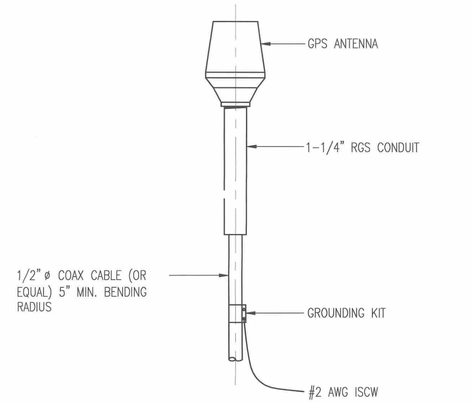


KEY NOTES:

1. MINI-CELL CABINET
2. POWER CABINET
3. GPS ANTENNA
4. GPS MOUNTING BRACKET
5. GPS COAX CABLE

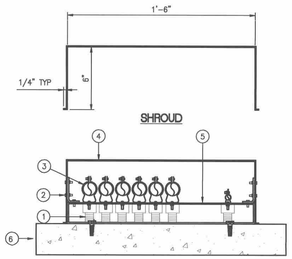
290A CABINET MOUNTED GPS ANTENNA

SCALE: N.T.S.



561 GPS ANTENNA

SCALE: N.T.S.



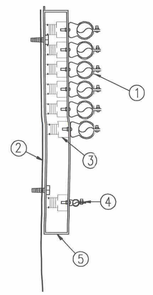
KEY NOTES:

1. UNISTRUT 3/8 " DIA P1008 SPRING-LOADED NUT (TYP PER HANGER)
2. ATTACH SHROUD TO UNISTRUT P1538A (4'-0" OC W/ (2) #10 TEK'S, TYP EACH SIDE)
3. COAX (SIZE & QUANTITY AS REQUIRED) W/ NON-INSULATING HANGERS @ 4'-0" OC (TYP)
4. 20 GA GALV METAL SHROUD (IF REQUIRED, PAINT W/ 2 COATS OF ALKYD EXTERIOR PAINT; FINISH PER REQUEST)
5. UNISTRUT P1000x18" LONG – ATTACH TO CONC PAVERS REQUIRED FOR ROOFTOP CONDITION
6. 4"x4"x16" CONCRETE PAVERS

693A CABLE SUPPORT ON CONC PAVERS W/SHROUD

SCALE: N.T.S.

NO.	DATE	REVISION	BY	CHKD	APVLS
A	10 12 01	ISSUED FOR QWEST REVIEW	IR	RLS	
0	10 23 01	ISSUED FOR CONSTRUCTION/PERMIT	IR	RLS	

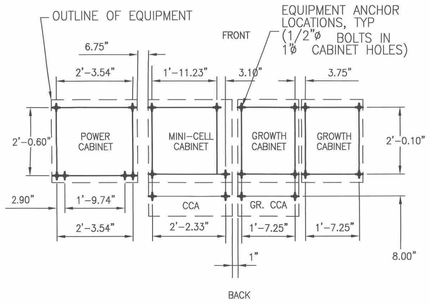


KEY NOTES:

1. COAX (SIZE AND QUANTITY AS REQUIRED) W/ NON- INSULATING HANGERS @ 4'-0" O.C. (TYPICAL).
2. GUARDRAIL
3. UNISTRUT 3/8" DIA. P1008 SPRING-LOADED NUT (TYP PER HANGER)
4. 1/2" GPS COAX W/ NON-INSULATED HANGER @ 48" O.C . (TYPICAL)
5. UNISTRUT P1000x18" LONG ATTACH TO PAVERS W/ (2)-3/8 " DIA. EXPANSION BOLTS.

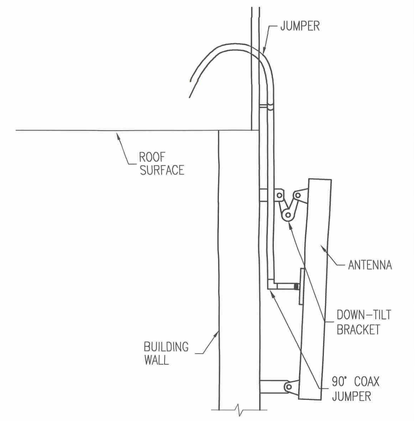
557 CABLE SUPPORT ON GUARDRAIL

SCALE: N.T.S.



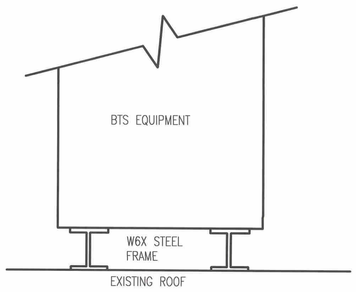
910 EQUIPMENT ANCHOR PATTERN

SCALE: N.T.S.



260 BUILDING MOUNT ANTENNA(CONCRETE OR MASONRY WALL)

SCALE: N.T.S.



920 BTS EQUIPMENT SUPPORT STRUCTURE

SCALE: N.T.S.

STATE OF COLORADO
RANDALL STONE
LICENSED ARCHITECT
11.19.01

Qwest® Wireless

SITE INFORMATION

SOUTHDOWN CEMENT PLANT
5134 UTE HIGHWAY
LYONS, COLORADO 80540-0529
BLD-021A

DESIGN TYPE

ROOFTOP EQUIPMENT AND ANTENNAS

SHEET TITLE

DETAILS

SHEET NUMBER	REV.
A-3	0

DWG NAME: A3 | DATE: 10-23-01

ELECTRICAL SYMBOLS

⊠	GROUND ROD
■	CADWELD TYPE CONNECTION
●	COMPRESSION TYPE CONNECTION
	GROUND WIRE

ABBREVIATIONS

AWG	AMERICAN WIRE GAUGE
BCW	BARE COPPER WIRE (SOLID TINNED)
GPS	GEOSTATIONARY POSITIONING SYSTEM
PCS	PERSONAL COMMUNICATION SERVICE
PPC	POWER PROTECTION CABINET
PRC	PRIMARY RADIO CABINET
RWY	RACEWAY
TYP.	TYPICAL
RGS	RIGID GALVANIZED STEEL
EMT	ELECTRICAL METALLIC TUBING
DWG	DRAWING
IGR	INTERIOR GROUND RING (HALO)
ACCA	ANTENNA CABLE COVER ASSEMBLY
BTS	BASE TRANSMISSION SYSTEM
GEN	GENERATOR
GR	GROWTH
BSCW	BARE STRANDED COPPER WIRE
ISCW	INSULATED STRANDED COPPER WIRE

NOTES:

1. DO NOT INSTALL ANTENNA GROUND KIT ON CABLE BEND.

FROM/TO	AZIMUTH 0° JUMPER & CABLE PART NUMBER	DOWNTILT=NA LENGTH (FT)* RX/TX	DOWNTILT=NA LENGTH (FT)* RX	AZIMUTH 120° JUMPER & CABLE PART NUMBER	DOWNTILT=NA LENGTH (FT)* RX/TX	DOWNTILT=NA LENGTH (FT)* RX	AZIMUTH 240° JUMPER & CABLE PART NUMBER	DOWNTILT=NA LENGTH (FT)* RX/TX	DOWNTILT=NA LENGTH (FT)* RX
JUMPER CABLE TO ANTENNA CABLE	L4-P10-PDMDM-3	3'	3'	L4-P10-PDMDM-3	3'	3'	L4-P10-PDMDM-3	3'	3'
CABLE TO TERMINATION POINT	LDF5-50A	55'	55'	LDF5-50A	90'	90'	LDF7-50A	180'	180'
TERMINATION POINT TO CABLE COVER ASSEMBLY	FSJ-50A	3'	3'	FSJ-50A	3'	3'	FSJ-50A	3'	3'

* ESTIMATED LENGTH FROM AVAILABLE INFORMATION. FIELD ENGINEER TO UPDATE ON AS BUILT DRAWINGS.

QWEST CABINET PANEL SCHEDULE

100A MAIN PANEL INSIDE POWER CABINET 10,000 A.I.C.
120/240 VOLTS, 1 PHASE 3 WIRES 100 AMP. BUSS

LOAD	WATTS	P	CB	CKT	PH	CKT	CB	P	WATTS	LOAD
GFI RECEPT.	180	1	20	1	A	2	60	2	4888	PWR. CAB.
SPARE		1	20	3	B	4	60	2	4888	PWR. CAB.
SPARE		1	20	5	A	6	20	1		SPARE
SPACE		1		7	B	8	20	1		SPARE
SPACE		1		9	A	10				SPACE
SPACE		1		11	B	12				SPACE

TOTAL DEMAND 9,956VA, 41 AMPERE

FAULT CURRENT CALCULATIONS

MAXIMUM AVAILABLE FAULT CURRENT AT THE SECONDARY OF EXISTING 50 KVA, 120/240V, 1PH, 3W POWER CO POLE MOUNTED TRANSFORMER IS 14,800 AMPS.
LENGTH OF RUN OF #4/0 CU FROM TRANSFORMER TO A NEW POWER CABINET IS 350 FT.
L=350 FT., C= 15,082

$$f = \frac{2 \times L \times I.S.C.}{C \times E} = \frac{2 \times 350 \times 14,800}{15,082 \times 240} = 2.86$$

$$M = \frac{1}{1+f} = \frac{1}{1+2.86} = 0.26$$

I.S.C. AT POWER CABINET = I.S.C. X M = 14,800 X 0.26 = 3,848 AMPS

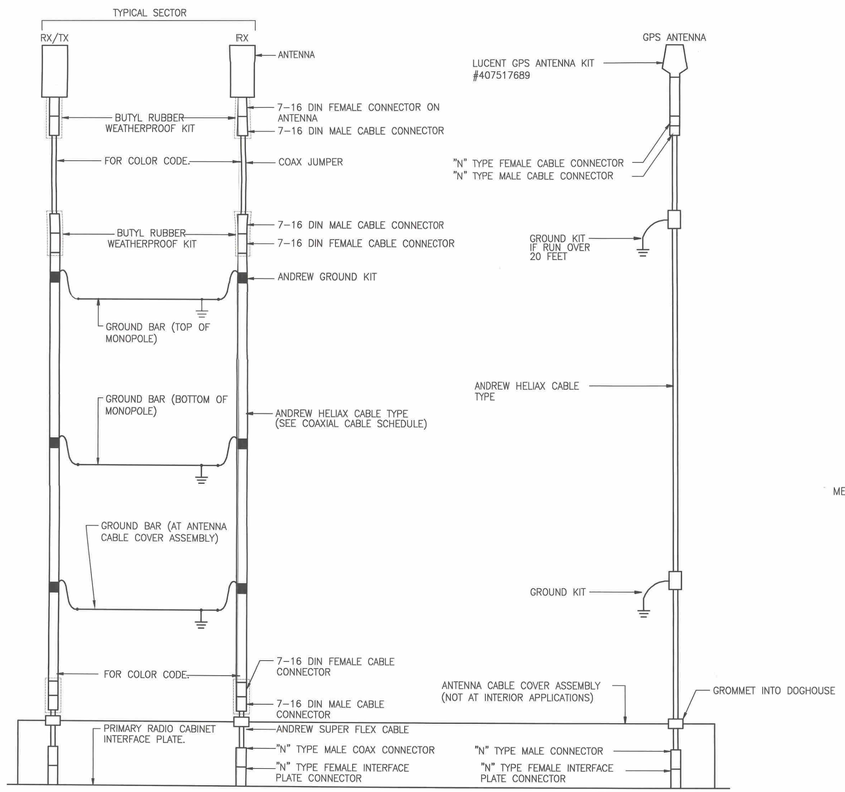
NEW POWER CABINET SHALL BE RATED A MINIMUM 10,000 A.I.C.

NO.	DATE	REVISION	BY	CHKD	APVLS
A	10 12 01	ISSUED FOR QWEST REVIEW	IR	RLS	
B	10 23 01	ISSUED FOR CONSTRUCTION/PERMIT	IR	RLS	

COLORADO REGISTERED WALTER RABINOVICH 29145 PROFESSIONAL ENGINEER
11/14/01

ELECTRICAL SYMBOLS AND ABBREVIATIONS SCALE : N.T.S.

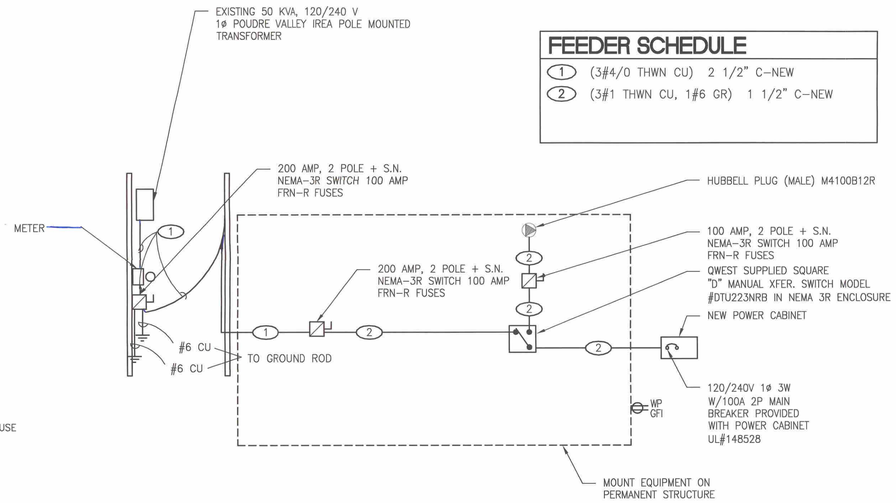
670 ANTENNA COAXIAL CABLE SCHEDULE SCALE : N.T.S.



720 ANTENNA COAX CABLE GROUNDING SCHEMATIC SCALE : N.T.S.

FEEDER SCHEDULE

(1) (3#4/0 THWN CU) 2 1/2" C-NEW
(2) (3#1 THWN CU, 1#6 GR) 1 1/2" C-NEW



ONE-LINE DIAGRAM
NO SCALE

NOTE:

1. CONTRACTOR TO FIELD VERIFY ALL DIMENSIONS, CABLE/CONDUIT LENGTHS AND ALL EXISTING CONDITIONS PRIOR TO CONSTRUCTION.
2. HEAVY LINE WEIGHT INDICATES NEW EQUIPMENT, ALL OTHER IS EXISTING.

Qwest® Wireless

SITE INFORMATION

SOUTHDOWN CEMENT PLANT
5134 UTE HIGHWAY
LYONS, COLORADO 80540-0529
BLD-021A

DESIGN TYPE

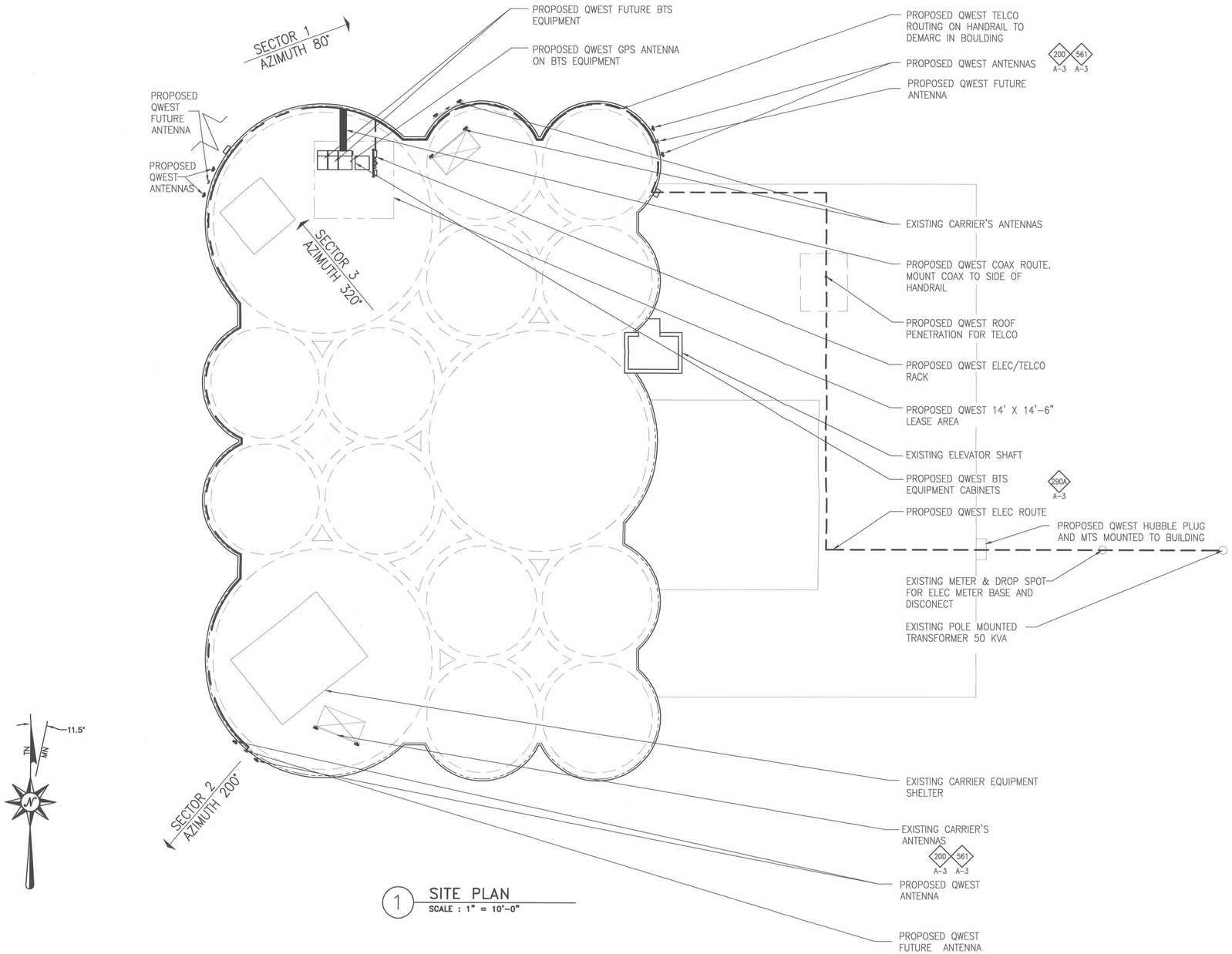
ROOFTOP EQUIPMENT AND ANTENNAS

SHEET TITLE

ONE-LINE DIAGRAM
CABLE COAX SCHEMATIC
AND SCHEDULES

SHEET NUMBER	REV.
E-1	0

DWG NAME: E1 | DATE: 10-23-01



1 SITE PLAN
SCALE : 1" = 10'-0"

NO.	DATE	REVISION	BY	CHKD	APVLS
A	10 12 01	ISSUED FOR QWEST REVIEW	IR	RLS	
B	10 23 01	ISSUED FOR CONSTRUCTION/PERMIT	IR	RLS	

COLORADO REGISTERED
WALTER RABINOVICH
29145
PROFESSIONAL ENGINEER
11/14/01

Qwest® Wireless

SITE INFORMATION

SOUTHDOWN CEMENT PLANT
5134 UTE HIGHWAY
LYONS, COLORADO 80540-0529
BLD-021A

DESIGN TYPE

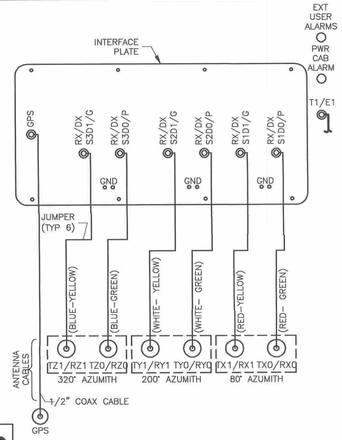
ROOFTOP EQUIPMENT AND ANTENNAS

SHEET TITLE

ELECTRICAL SITE PLAN

SHEET NUMBER	REV.
E-2	0

DWG NAME: E-2 | DATE: 10-23-01



676 COAX INTERFACE PLATE AT PRIMARY CABINET - E-CELL LAYOUT

SCALE: N.T.S.

COLOR CODE THE COAXIAL CABLES WITH COLORED ELEC. TAPE AS DESCRIBED BELOW. THE ACTUAL COLOR CODING WILL TAKE PLACE AFTER THE CABLE IS LAID OUT AND THE CONNECTORS ARE INSTALLED, SO THE COLOR CODING WILL OCCUR DURING THE RETURN LOSS MEASUREMENT ON THE COAX.

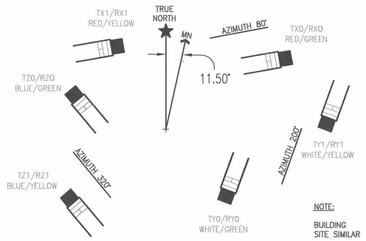
THE COLOR CODING IS AS FOLLOWS:

TO IDENTIFY THE SECTOR:
- X = RED 80 DEGREES OR TRUE NORTH
- Y = WHITE 200 DEGREES OR E.S.E.
- Z = BLUE 320 DEGREES OR W.S.W.

TO IDENTIFY THE PORT:
- 0 = GREEN
- 1 = YELLOW

SO EACH COAX WILL HAVE TWO STRIPES ON EACH END OF THE CABLES. THESE STRIPES SHOULD BE APPROXIMATELY TWO INCHES LONG.

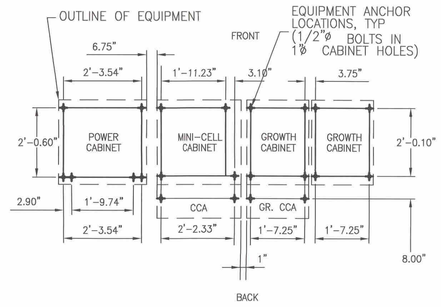
FOR THE END OF THE COAX THAT GOES TO THE ANTENNA, ATTACH THE STRIPES AS NEAR TO THE ANTENNA AS POSSIBLE, ENSURING THAT THEY WON'T GET COVERED UP BY THE WEATHER-PROOFING AND CAN BE SEEN FROM THE GROUND.



NOTE:
BUILDING SITE SIMILAR

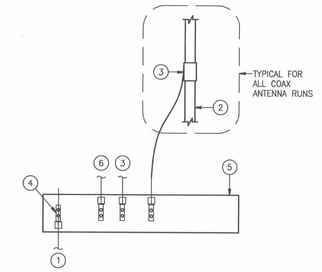
680 COAX CABLE COLOR CODING

SCALE: N.T.S.



910 EQUIPMENT ANCHOR PATTERN

SCALE: N.T.S.




KEY NOTES:

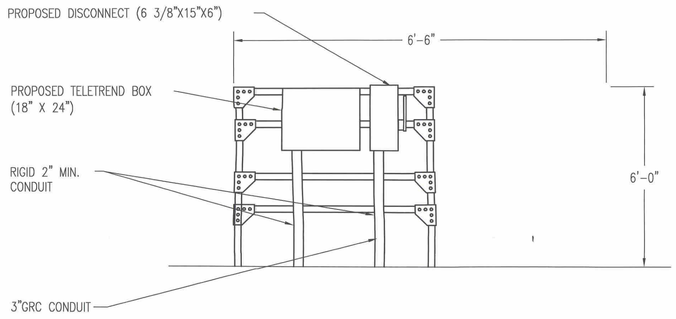
1) #2 AWG BCW TO GROUND BAR AT EQUIPMENT
2) ANTENNA COAX CABLE
3) STANDARD ANDREWS COAX GROUND KIT, TYPICAL AT EACH ANTENNA DO NOT INSTALL ON BEND
4) 2 HOLE LUG TYPE CONNECTOR – TYPICAL
5) GROUND BAR MOUNTED AT EQUIPMENT SEE DETAIL 710
6) FUTURE ANTENNA COAX GROUND

750 GROUND BAR AT ANTENNAS

SCALE: N.T.S.

NO.	DATE	REVISION	BY	CHKD	APVLS
A	10 12 01	ISSUED FOR QWEST REVIEW	IR	RLS	
0	10 23 01	ISSUED FOR CONSTRUCTION/PERMIT	IR	RLS	

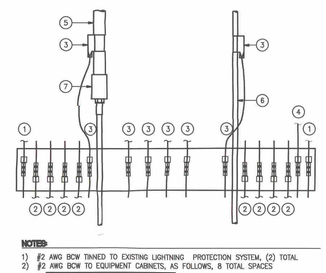




NOTES:
1. SIZE CONDUIT PER ONE-LINE DIAGRAM ON SHEET E-1.
2. ATTACH CONDUIT TO FRAME PER NATIONAL ELECTRICAL CODE.
3. TELTREND BOX 2 EAC H 6 X 22 BSW TO PEDESTAL
4. ADD " DOUBLE UNISTRUT ON VERTICAL & HORIZONTAL MEMBERS" PART NO.P1001
5. EITHER SINGLE 90° GUSSETS PART NO.P1873 OR 2 "T" PART NO.P1380A BACK TO BACK ON EITHER SITE

951N ELEC/TELCO RACK

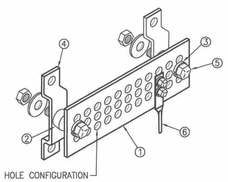
SCALE: N.T.S.



NOTES:
1) #2 AWG BCW TINNED TO EXISTING LIGHTNING PROTECTION SYSTEM, (2) TOTAL
2) #2 AWG BCW TO EQUIPMENT CABINETS, AS FOLLOWS, 8 TOTAL SPACES
   - 2 – POWER CABINET
   - 2 – RADIO CABINET
   - 2 – GROWTH CABINET (FUTURE)
   - 2 – GROWTH CABINET (FUTURE)
3) STANDARD ANDREWS COAX GROUND KIT, TYPICAL AT COAX DO NOT INSTALL ON BEND
4) #2 AWG BCW TO GROUND CONDUCTOR AT POLE
5) ANTENNA COAX, 4 TOTAL, 1 SHOWN
6) GPS COAX
7) COAX TO JUMPER CONNECTOR

752 GROUND BAR AT EQUIPMENT

SCALE: N.T.S.



2 OR 3 HOLE CONFIGURATION

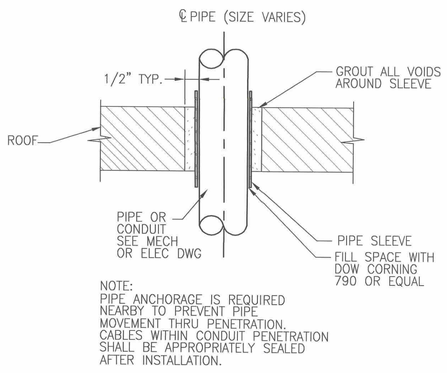
NOTE: TWO HOLE LUG CONNECTOR BOLTED TO EACH SIDE OF GROUND BAR ACCEPTABLE TO REDUCE GROUND BAR SIZE.

KEY NOTES:

1) COPPER GROUND BAR 1/4" x 4" x LENGTH AS REQUIRED, HOLE CENTERS TO MATCH NEMA DOUBLE LUG CONFIGURATION.
2) SPACERS AS REQUIRED – NO INSULATORS
3) 5/8"ø LOCK WASHERS
4) WALL MOUNTING BRACKET
5) 5/8"ø H.H.C.S. BOLTS
6) TWO HOLE LUG TYPE CONNECTOR TYPICAL.

710 STANDARD GROUNDING BAR

SCALE: N.T.S.



NOTE:
PIPE ANCHORAGE IS REQUIRED NEARBY TO PREVENT PIPE MOVEMENT THRU PENETRATION. CABLES WITHIN CONDUIT PENETRATION SHALL BE APPROPRIATELY SEALED AFTER INSTALLATION.

632A ROOF PENETRATION

SCALE: N.T.S.

Qwest® Wireless

SITE INFORMATION

SOUTHDOWN CEMENT PLANT
5134 UTE HIGHWAY
LYONS, COLORADO 80540-0529
BLD-021A

DESIGN TYPE

ROOFTOP EQUIPMENT AND ANTENNAS

SHEET TITLE

DETAILS

SHEET NUMBER	REV.
E-3	0

DWG NAME: E-3 | DATE: 10-23-01

RECEIVED
DEC 12 2001
BOULDER COUNTY
BUILDING DIV.

FINAL

I-2179

U2

COMPLETE COPY

Qwest
5134 Ute Hwy

PLAN REVIEW
& PERMIT SECTION
ACCEPTED SUBJECT
TO CORRECTION NOTED
REFUSED
FINAL ACCEPTANCE SUBJECT
TO FIELD INSPECTION
DATE 12/20/01
BY
PERMIT NO.